Chloe Tang 33166080 FIT3179 DV 2 Sketch.

Birdwatching in Australia

[paragraph text . . . . .]

① Meet the Birds (images)

Bird 1 | Bird 2 | Bird 3 | Bird 4

Bird 5 | Bird 6 | Bird 7 | Bird 8.

② Where Australian watch Birds 1/3 2/3

[Intro]

[Intro paragraph . . . . .]

[Analysis]

[—]

Bird sightings by state

Choropleth. Australia.

[Where do sightings cluster]

Analysis

Sighting Hotspots.

Australia. Proportional Symbol Map

Hotspots Sightings

Bird selector

③ Landscape and Habitat

[intro description] - - - - - - -]

Where birds live?

½

By Elevation.

Activity.

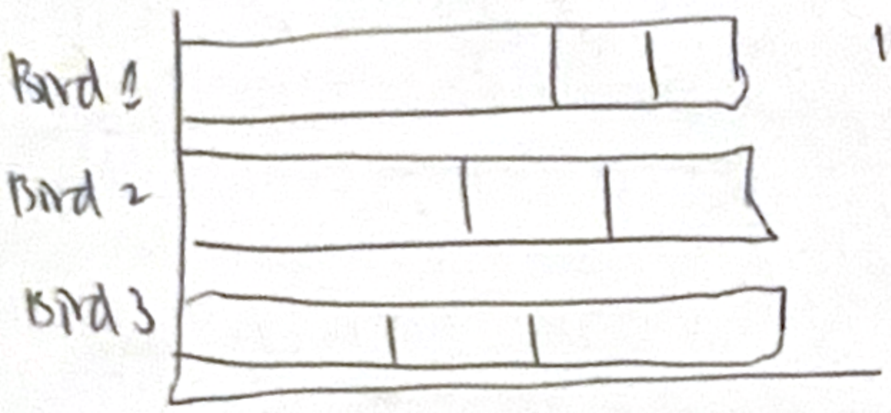
~~Pollination~~

map + colour mapping

Reading Elevation bars

text

Elevation bins



100% stacked bar chart

½

By coastal distance.

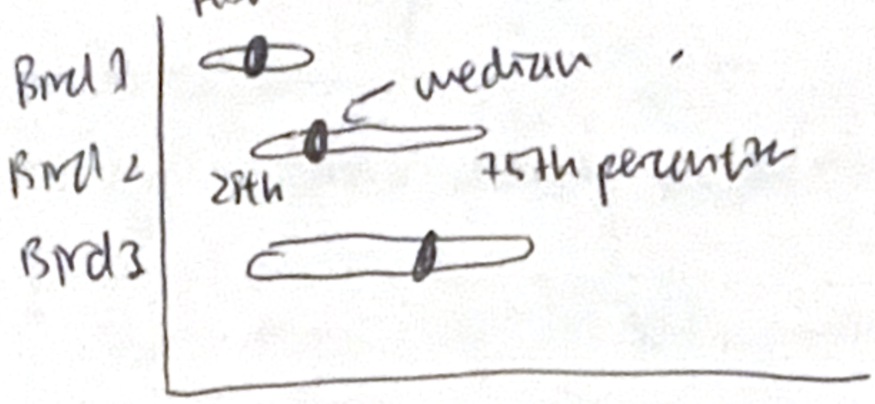
Activity

map + colour mapping

Reading coast chart.

text

How far from coast?



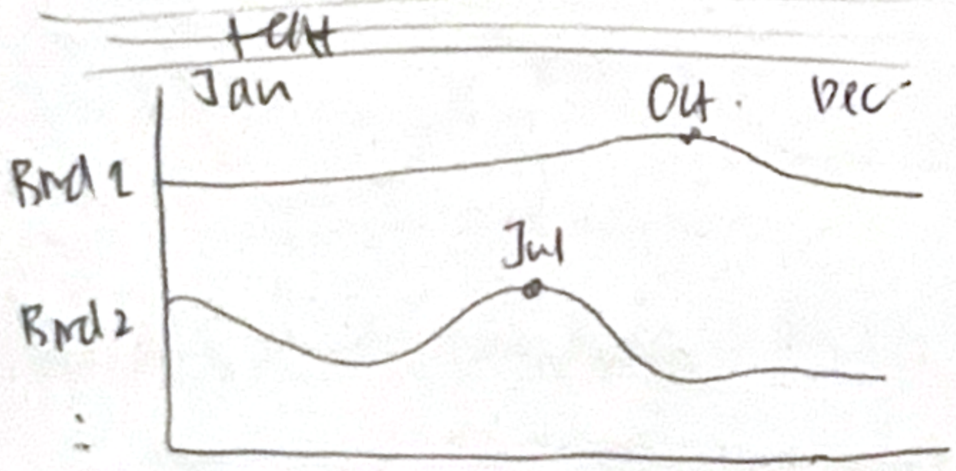
Point range (dot and whisker) plot

④ Seasonal Patterns in Bird Activity

text.

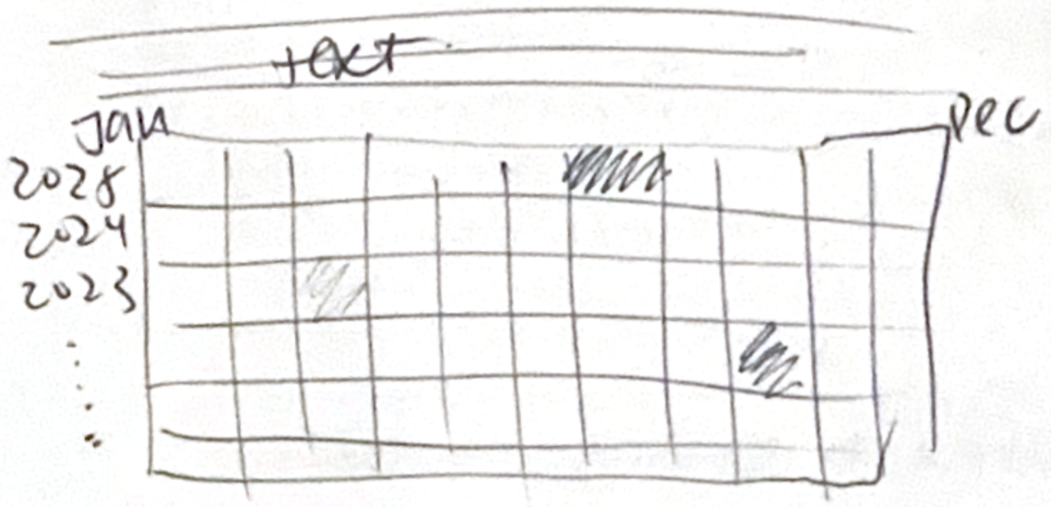
Reading ridgeline

text



Reading Heat Map.

text



⑤ How sightings change over time.

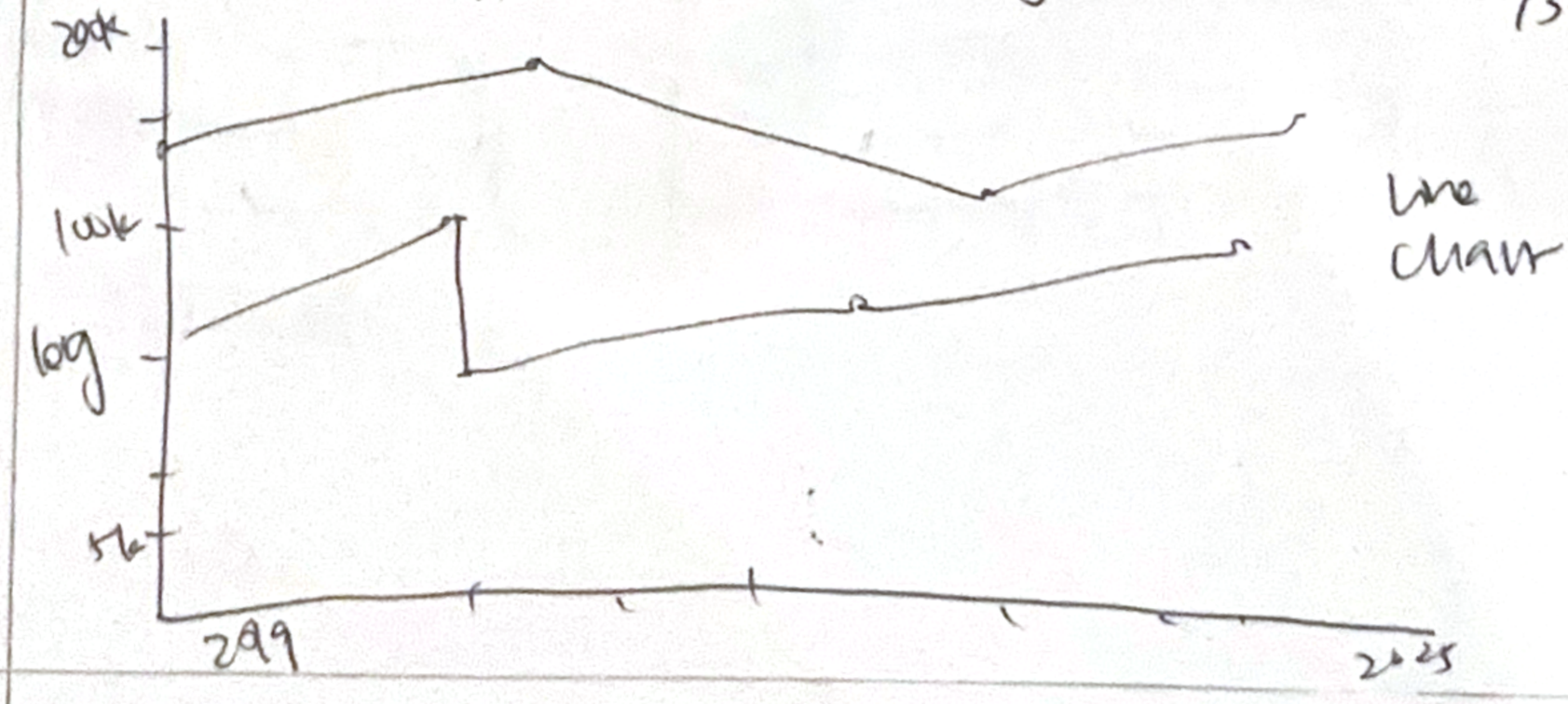
How sighting changes?

1/3

text

Annual bird sightings.

2/3.



Line chart

⑥ Migration Patterns Across Australia.

1/8

Bird

Regional Focus

text

Jan — Slider — Dec

Path map

Jan, Feb, Dec, Nov

⑦ Ranking Most Observed Birds

text

Ten Most Reported Bird, 2019–2025

Bump chart

1, 2, 9, 10

2019 — 2025

Recorded Sightings by Bird, Year.

~~text~~

Bird 1, Bird 2, Bird 3

Lollipop chart

1k, 5k, 50k

Change in Sightings by Bird 2019 vs 2025

Bird 1, Bird 2, Bird 3

% , % , %

2019, 2025

~~Lollipop~~ Dumbbell chart

1k — 200k

Sightings.

⑧ Sources & Acknowledgements.

Data

Image Credits